Neyveli Lignite Mines

🏭 Introduction

The **Neyveli Lignite Mines** are one of the most important lignite mining projects in India, located in Tamil Nadu. They are operated by NLC India Limited (formerly Neyveli Lignite Corporation), a central public sector enterprise.

These mines are known for extracting **lignite (brown coal)**, which is primarily used for **thermal power generation**. Neyveli is a unique case in India because it involves large-scale **lignite mining combined with captive power generation**. The project plays a crucial role in supplying electricity to southern states and is a key example of integrated mining and power operations.

🌍 Geographical Overview – Neyveli Lignite Mines

The Neyveli lignite mines are located in the **Cuddalore district** of Tamil Nadu, within the **Cauvery basin**, a major sedimentary basin in southern India.

📍 Location & Setting

- Situated near **Neyveli town in Cuddalore district**
- Lies in the **Cauvery basin**, rich in lignite deposits
- Well connected by rail and road networks

🌄 Physical & Geological Features

- Formed in **Tertiary sedimentary formations** (unlike Gondwana coalfields)
- Contains **thick lignite seams at shallow depths**, ideal for opencast mining
- Mining involves **continuous surface mining methods** (bucket wheel excavators)

🌊 Nearby Natural Features

- Located near the **coastal plains of Tamil Nadu**
- Close to the Vellar River basin

🌦️ Climate

- Tropical coastal climate
- Hot and humid summers
- Moderate monsoon rainfall
- Mild winters

📊 1. Mine-wise Production (MTPA)

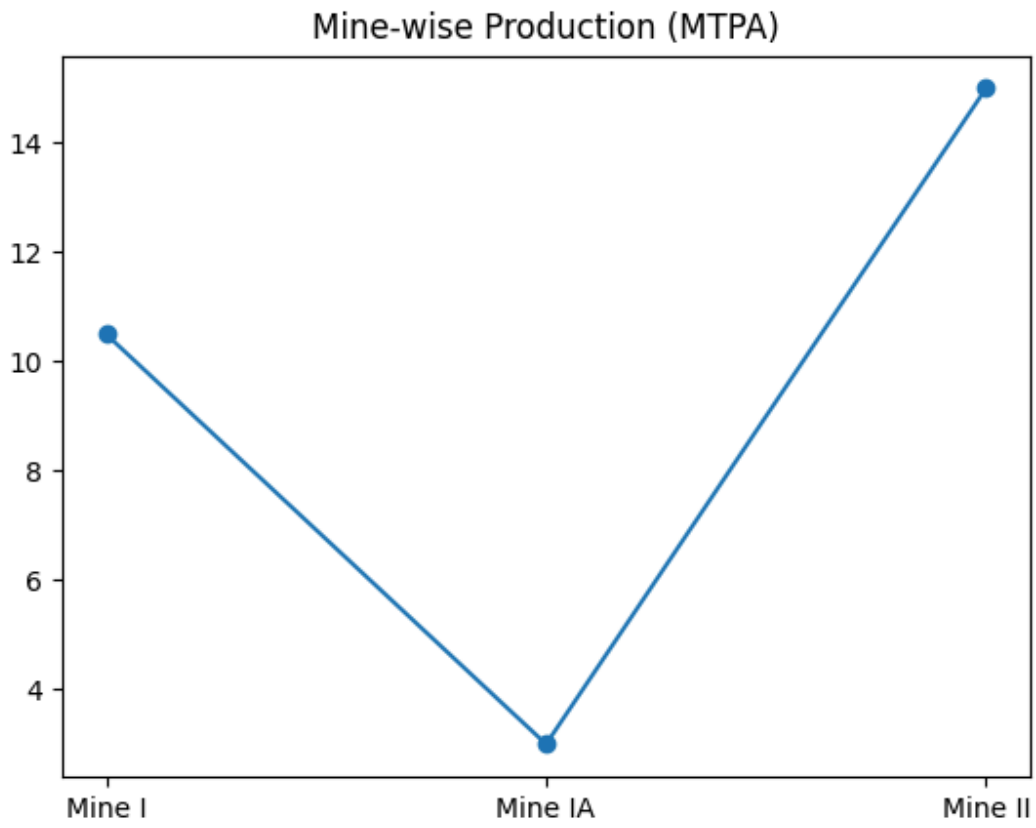

This chart shows lignite production from different mines (Mine I, IA, and Mine II) operated by NLC India Limited.
Mine II contributes the largest share due to its higher capacity.
Significance: Helps in understanding production distribution and planning resource allocation across mines.

📊 2. Total Lignite Production Trend

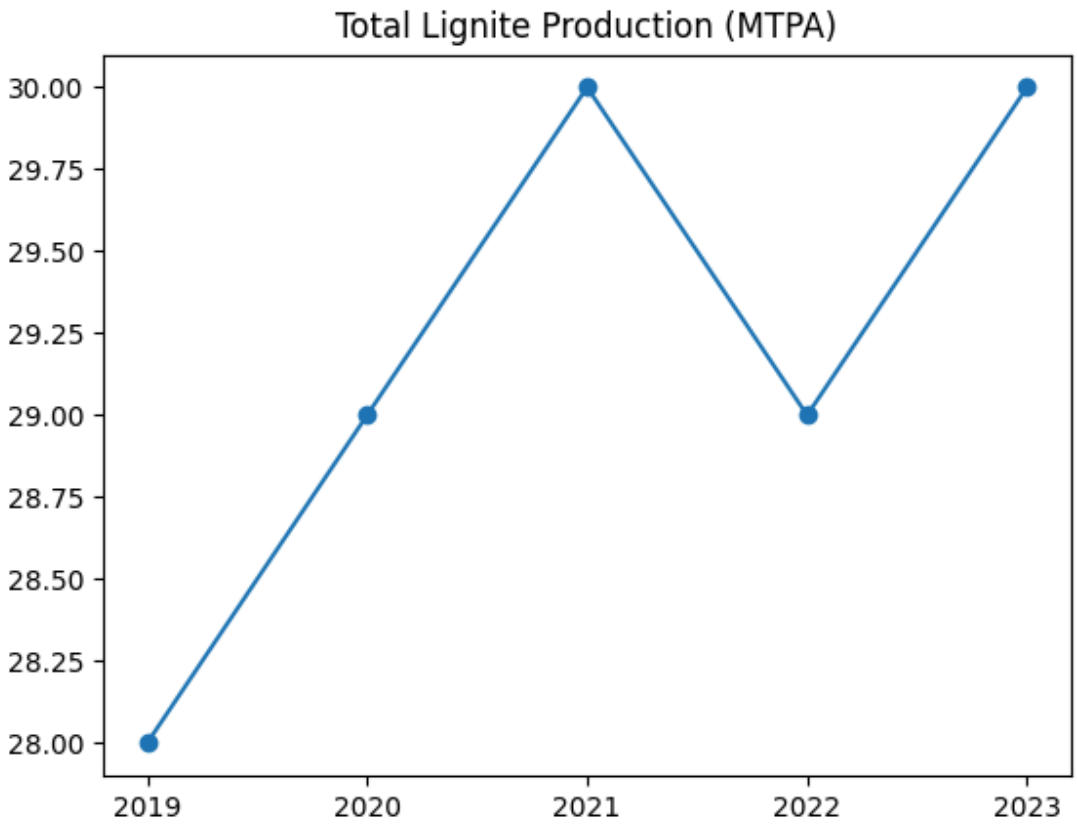

Represents yearly lignite production, which remains relatively stable around **28–30 MTPA**.
This stability is due to continuous mining operations using advanced systems.
Significance: Useful for forecasting production and evaluating consistency in output.

📊 3. Seam Thickness (m)

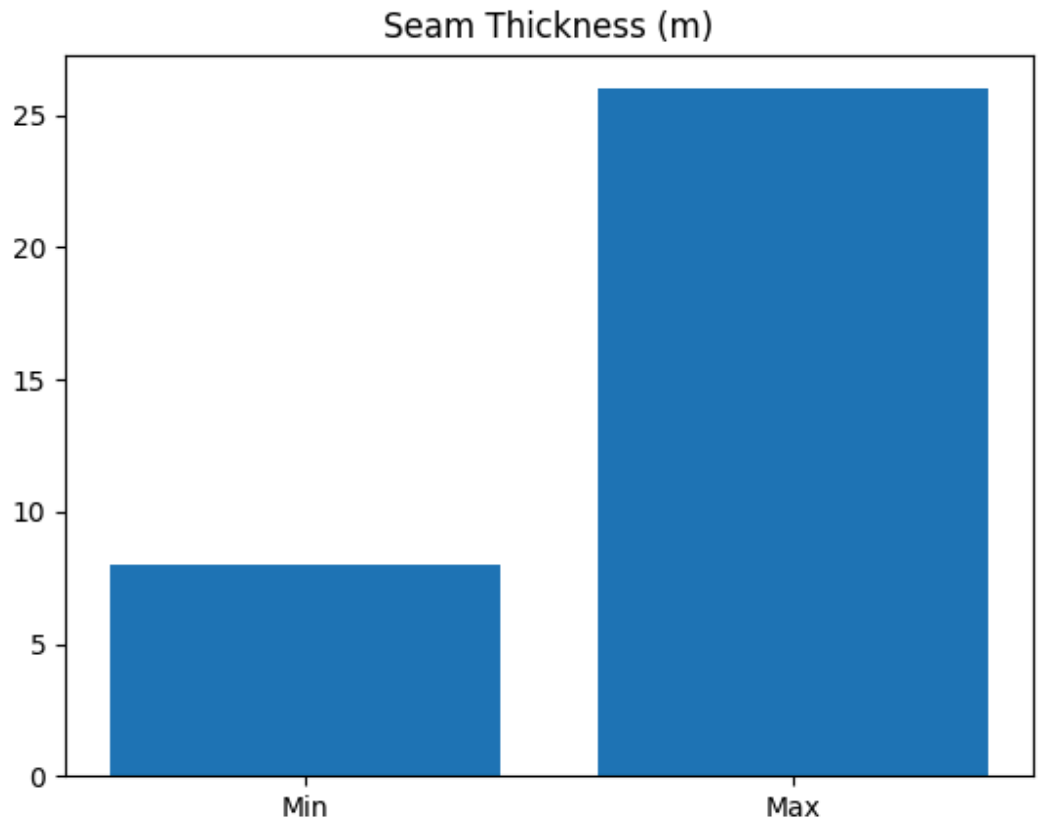

Displays minimum and maximum lignite seam thickness (approx. 8–26 m).
Thick seams are suitable for large-scale continuous mining.
Significance: Important for mine design and selection of equipment like bucket wheel excavators.

📊 4. Mine Depth (m)

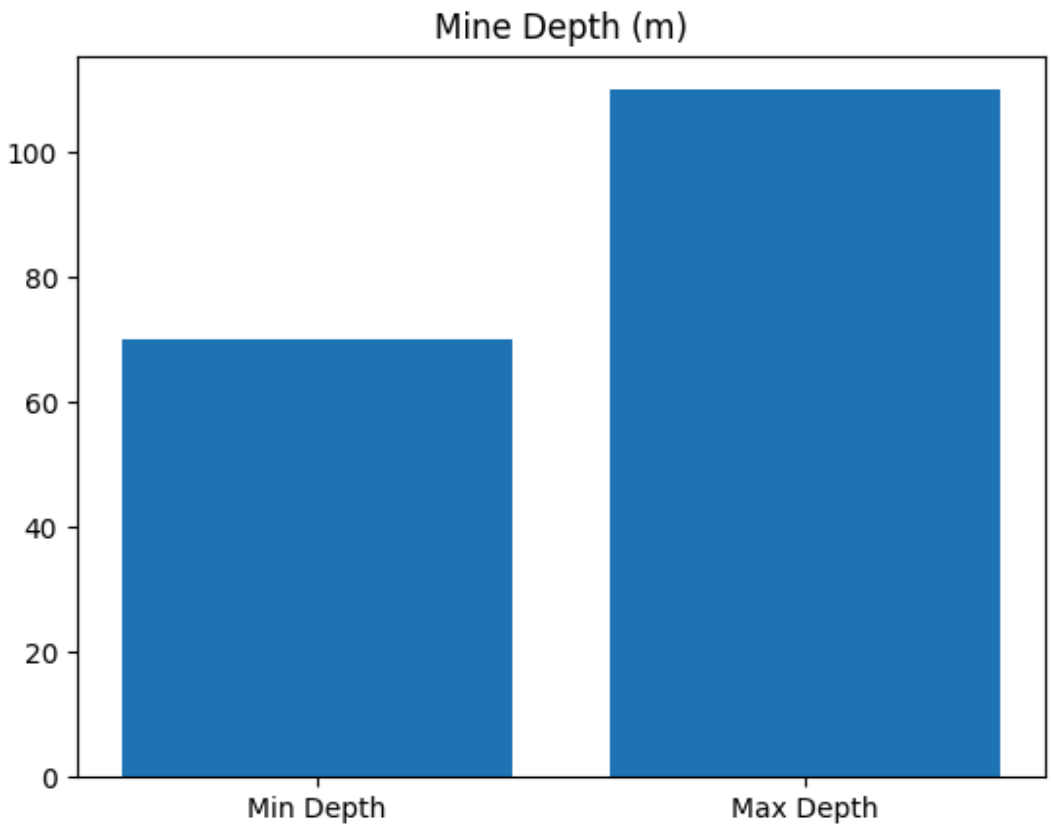

Shows variation in mining depth (~70–110 m).
Deeper mining requires careful slope stability and groundwater control.
Significance: Critical for long-term mine planning and safety management.

📊 5. Mining Method Distribution

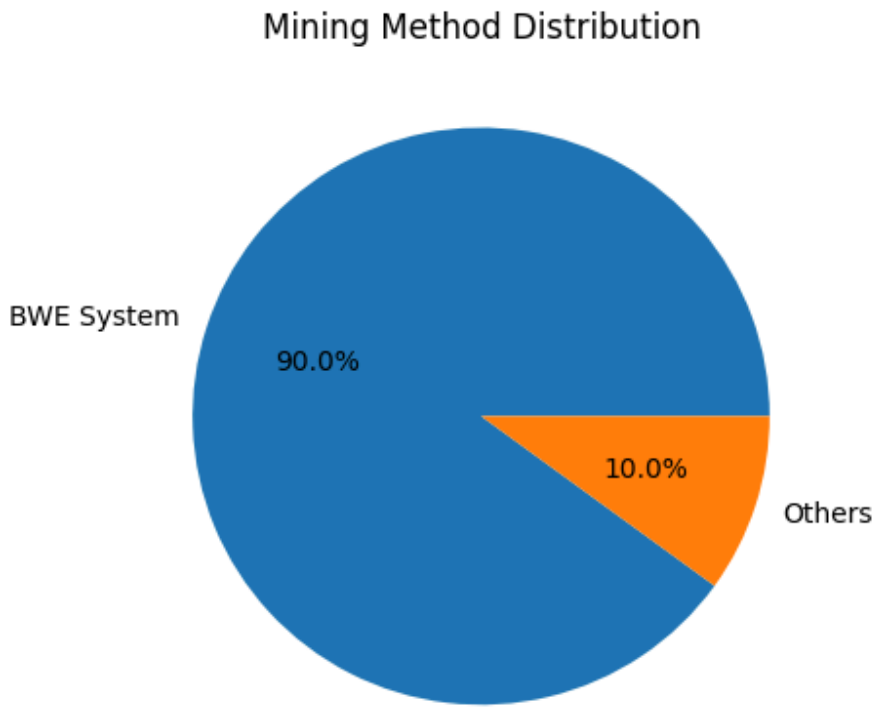

Represents dominance of **Bucket Wheel Excavator (BWE) system**.
This system allows continuous excavation and high productivity.
Significance: Neyveli is a key case study for continuous surface mining technology.

📊 6. Power Generation Linkage (MW)

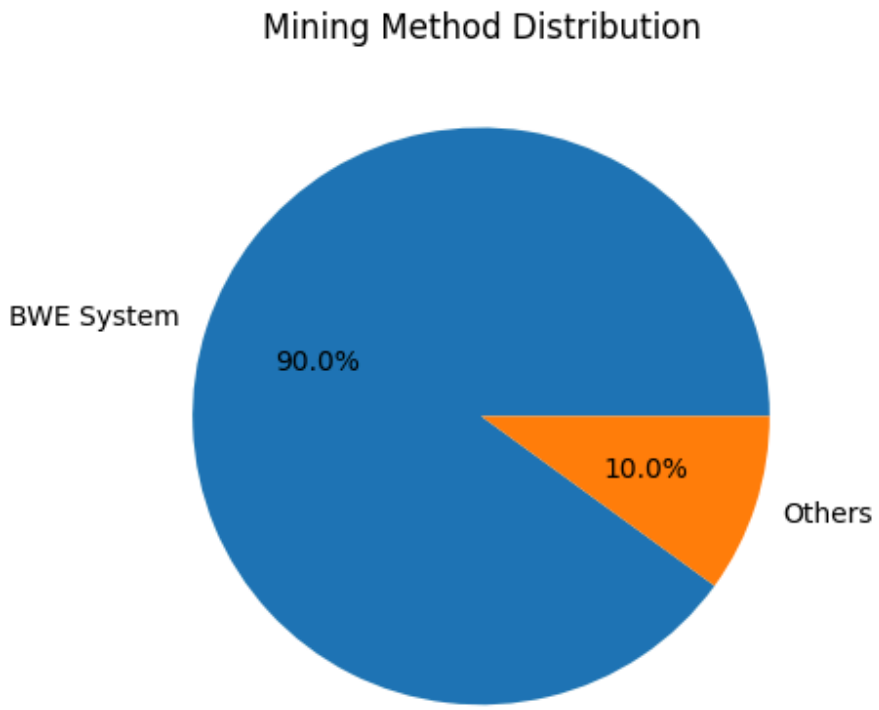

Shows linkage between lignite mining and power generation (~3000 MW capacity).
Lignite is directly used in nearby thermal power plants.
Significance: Demonstrates integrated mining–power generation model.

📊 7. Land Use Distribution

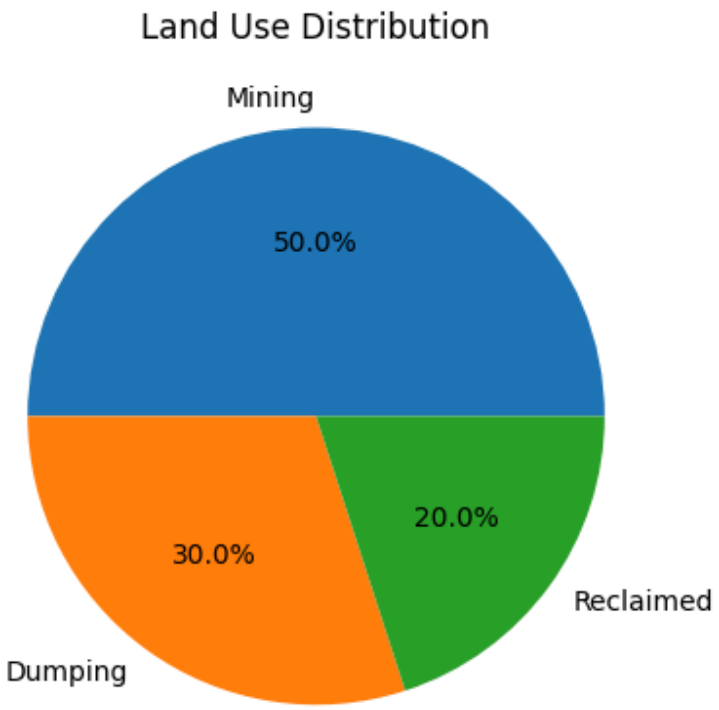

Shows land division into mining, dumping, and reclaimed areas.
Reclamation is essential after mining operations.
Significance: Important for environmental management and sustainable mining practices.

📊 8. Water Usage Distribution

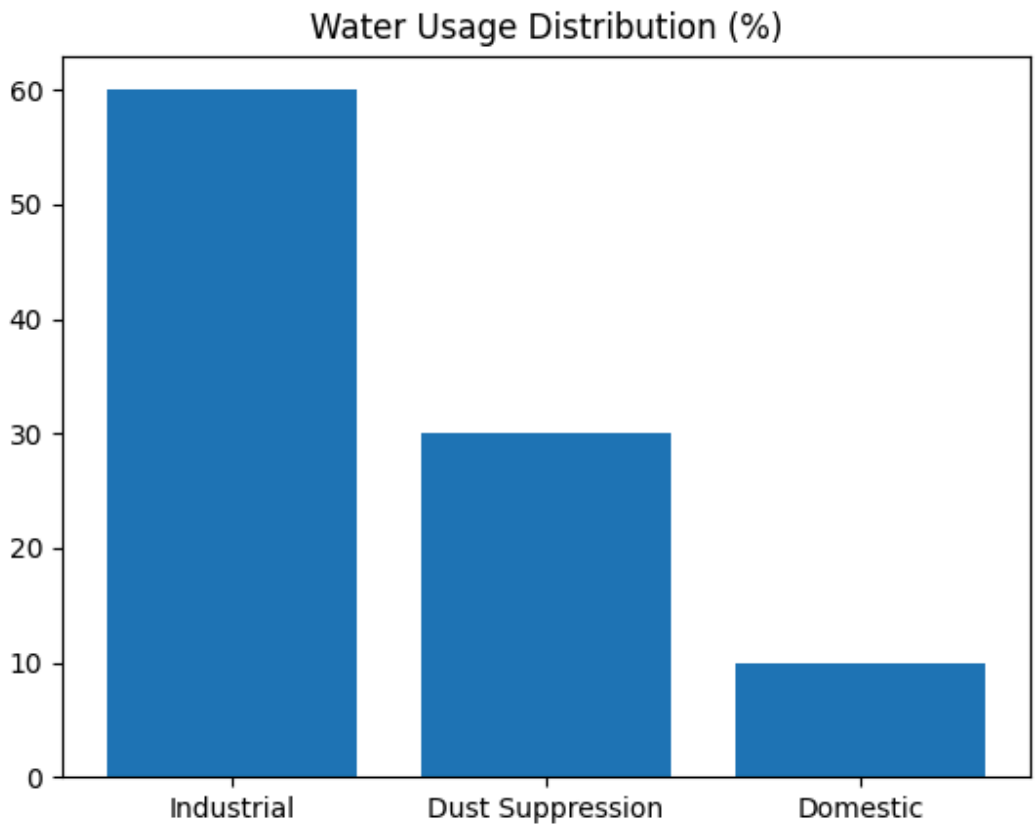

Represents water consumption across industrial, dust suppression, and domestic uses.
Mining operations require significant water for dust control.
Significance: Important for water resource management and environmental compliance.