Raniganj Coalfield

🏭 Introduction

The **Raniganj Coalfield** is one of the oldest coalfields in India and marks the beginning of organized coal mining in the country. It is located in West Bengal and is primarily operated by Eastern Coalfields Limited, a subsidiary of Coal India Limited.

Coal mining in Raniganj started as early as **1774**, making it historically significant in India's industrial development. The coalfield mainly produces **non-coking coal**, which is widely used for thermal power generation and industrial purposes. It has contributed significantly to the growth of industries in eastern India and continues to be an important coal-producing region.

🌍 Geographical Overview – Raniganj Coalfield

The Raniganj Coalfield is located in the **Paschim Bardhaman district** of West Bengal and forms part of the Damodar Valley coalfields.

📍 Location & Setting

- Lies between **23°35′N to 23°55′N latitude** and **86°40′E to 87°10′E longitude**
- Covers an area of approximately **1,530 sq. km**
- Well connected by rail and road networks, especially via Asansol and Durgapur

🌄 Physical & Geological Features

- Part of the **Gondwana coalfields**, rich in non-coking coal deposits
- Contains multiple coal seams of moderate thickness
- Mining is carried out using both **underground and opencast methods**

🌊 Nearby Natural Features

- Located in the **Damodar Valley region**
- Close to the Damodar River, supporting industrial development

🌦️ Climate

- Tropical climate
- Hot summers (up to ~45°C)
- Moderate monsoon rainfall
- Mild winters

📊 1. Production Trend (MT)

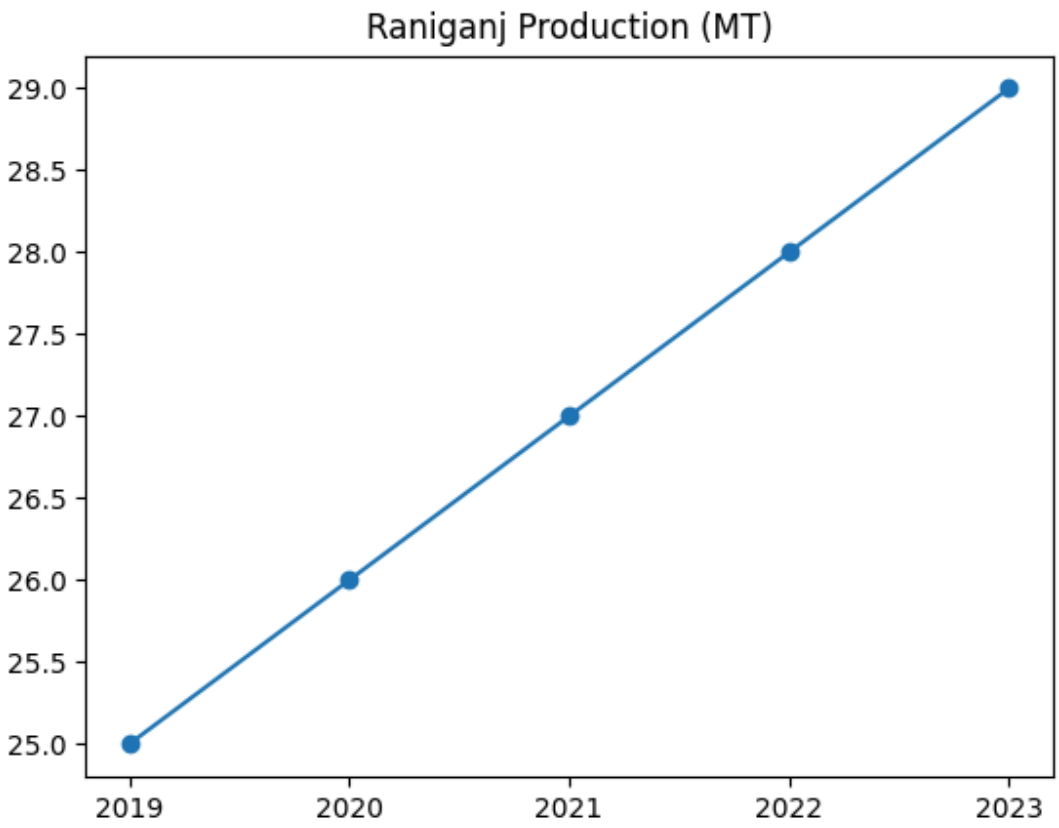

This chart shows a steady increase in coal production from 25 MT in 2019 to 29 MT in 2023. The consistent growth indicates improved operational efficiency and expansion of mining activities in Raniganj. It reflects better resource utilization and possible modernization of mining techniques.

Significance: Helps engineers analyze productivity trends, plan future output, and evaluate the effectiveness of mine planning and equipment deployment.

📊 2. OC vs UG Share

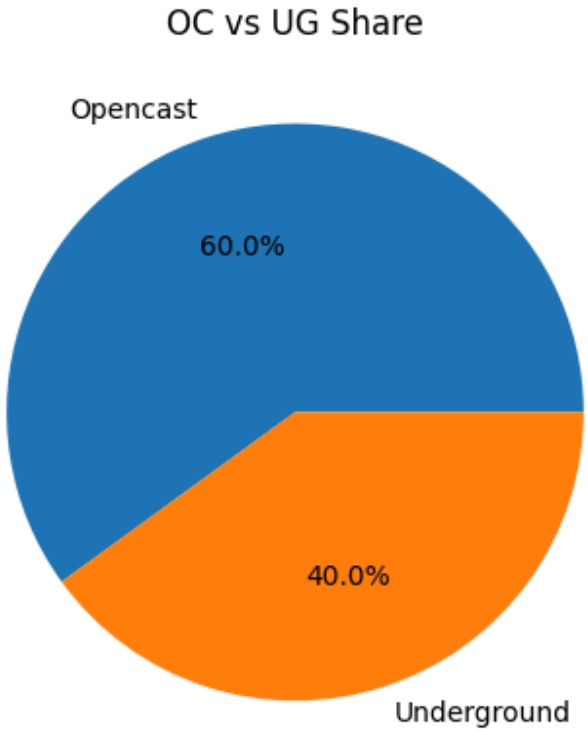

The chart indicates that **opencast mining (60%) dominates over underground mining (40%)**. This is due to higher recovery rates, lower costs, and better safety in opencast operations. However, underground mining still plays an important role in deeper reserves.
Significance: Crucial for selecting mining methods, cost comparison, and understanding trade-offs between recovery, safety, and environmental impact.

📊 3. Non-coking Coal Grades

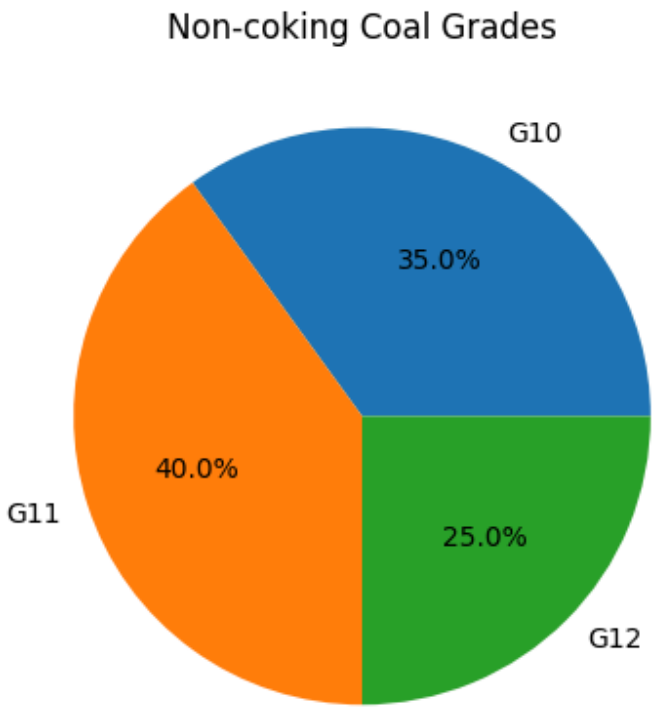

This chart shows distribution of coal grades (G10, G11, G12), with G11 being the highest share. These grades represent calorific value and ash content of coal. Lower grade coal is typically used in thermal power plants.
Significance: Important for quality control, pricing, beneficiation planning, and matching coal properties with end-use requirements.

📊 4. Overburden Removal (Mm³)

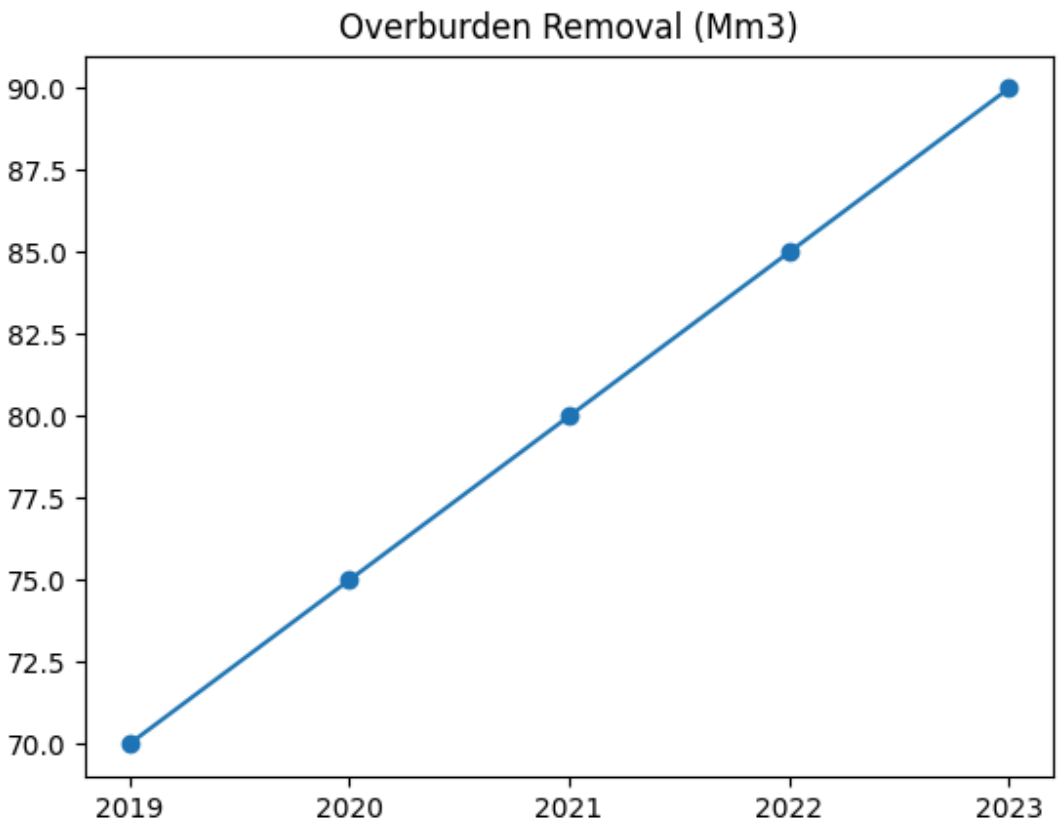

The chart shows a steady increase in overburden (OB) removal from 70 to 90 Mm³. This indicates expansion of opencast mining and deeper excavation of coal seams. Higher OB removal directly affects operational cost and equipment requirement.
Significance: Essential for dump design, haul road planning, and selection of high-capacity excavation and transport machinery.

📊 5. Stripping Ratio

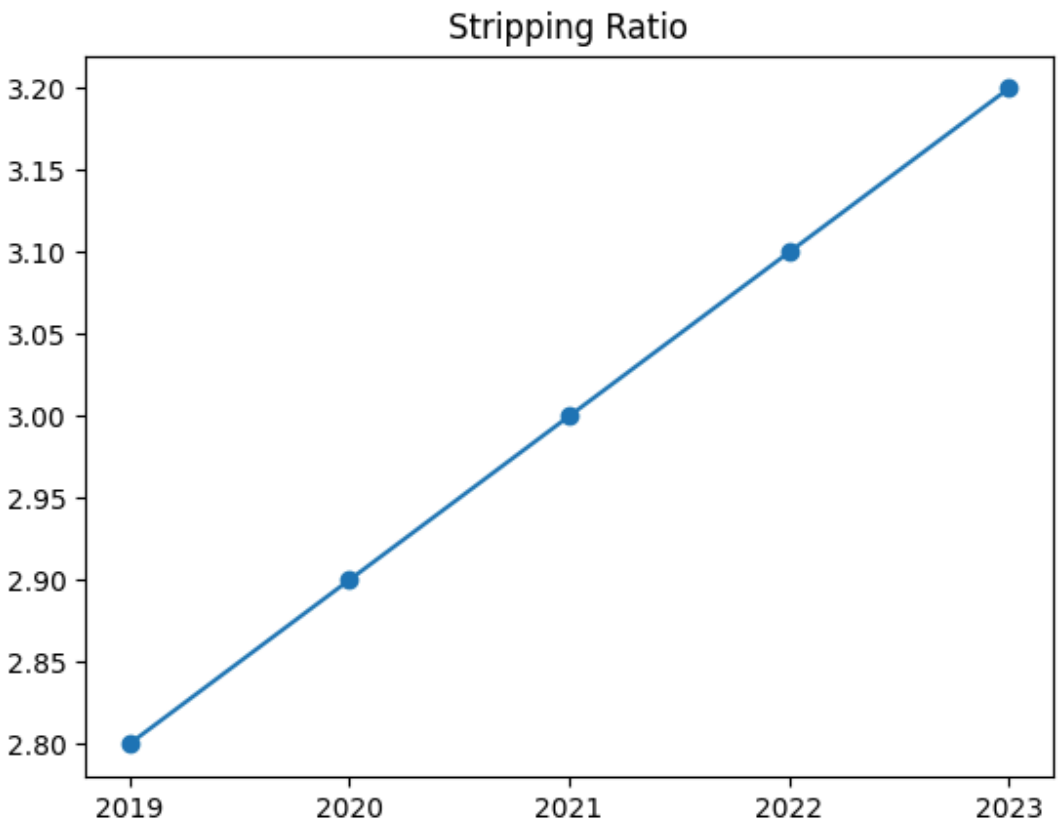

The stripping ratio increases from 2.8 to 3.2 over the years, indicating more overburden is being removed per unit of coal. This suggests deeper mining or depletion of shallow reserves.
Significance: A key economic indicator—higher stripping ratio leads to increased cost, influencing mine feasibility and long-term planning.

📊 6. Seam Thickness (m)

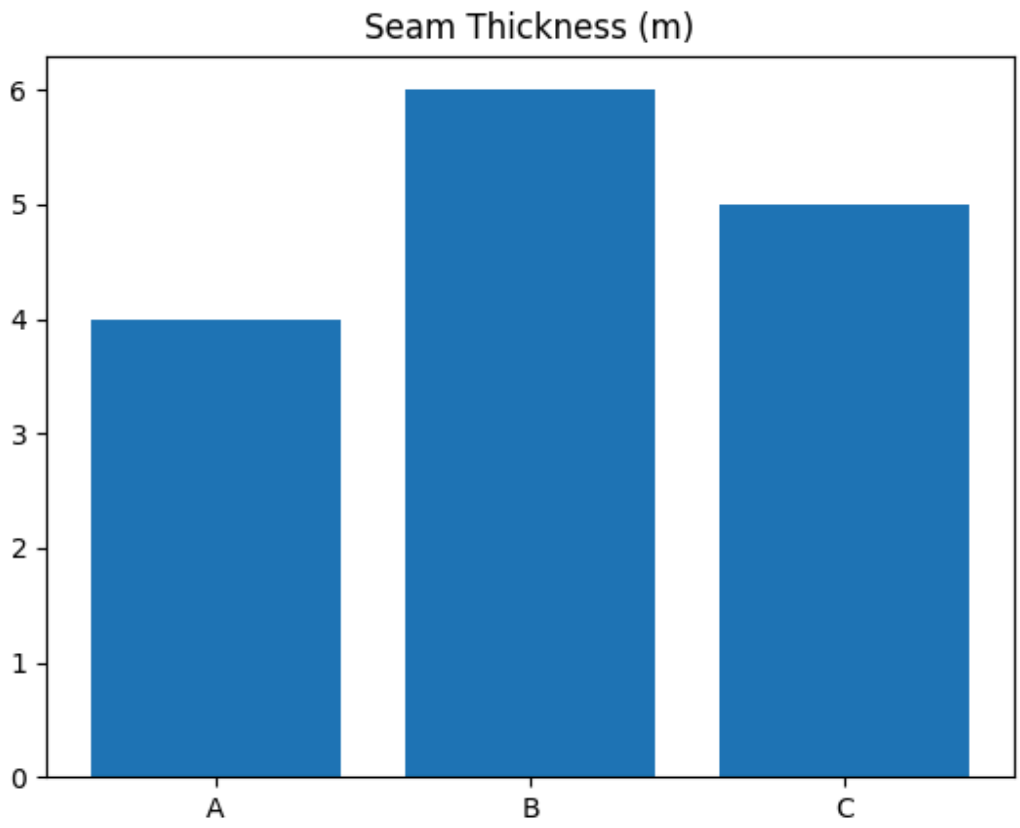

The chart shows variation in seam thickness across different seams (A, B, C), with seam B being the thickest. Thicker seams are more economical to mine and allow higher productivity.
Significance: Helps in mine design, method selection (OC vs UG), and determining suitable equipment and extraction techniques.

📊 7. Workforce Distribution

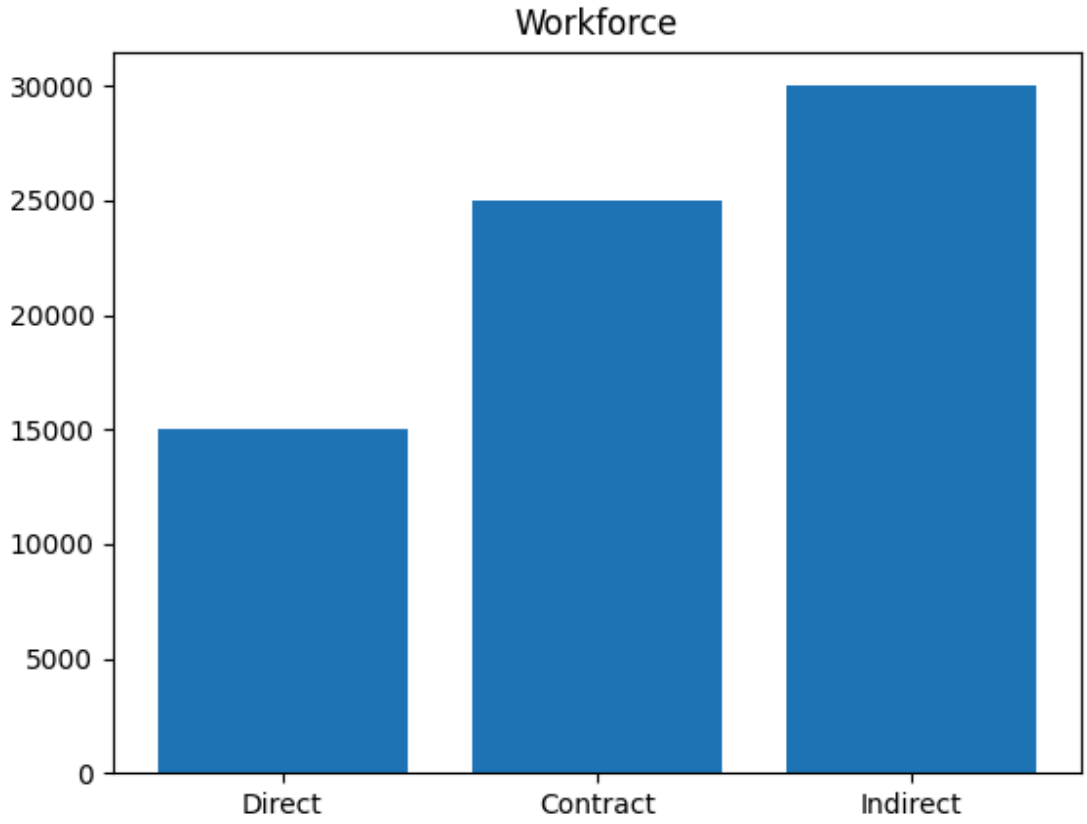

This chart shows workforce distribution among direct, contract, and indirect workers, with indirect employment being the highest. It reflects the large socio-economic impact of mining operations.
Significance: Useful for manpower planning, labor cost estimation, and assessing the socio-economic contribution of mining.

📊 8. Cost Distribution (%)

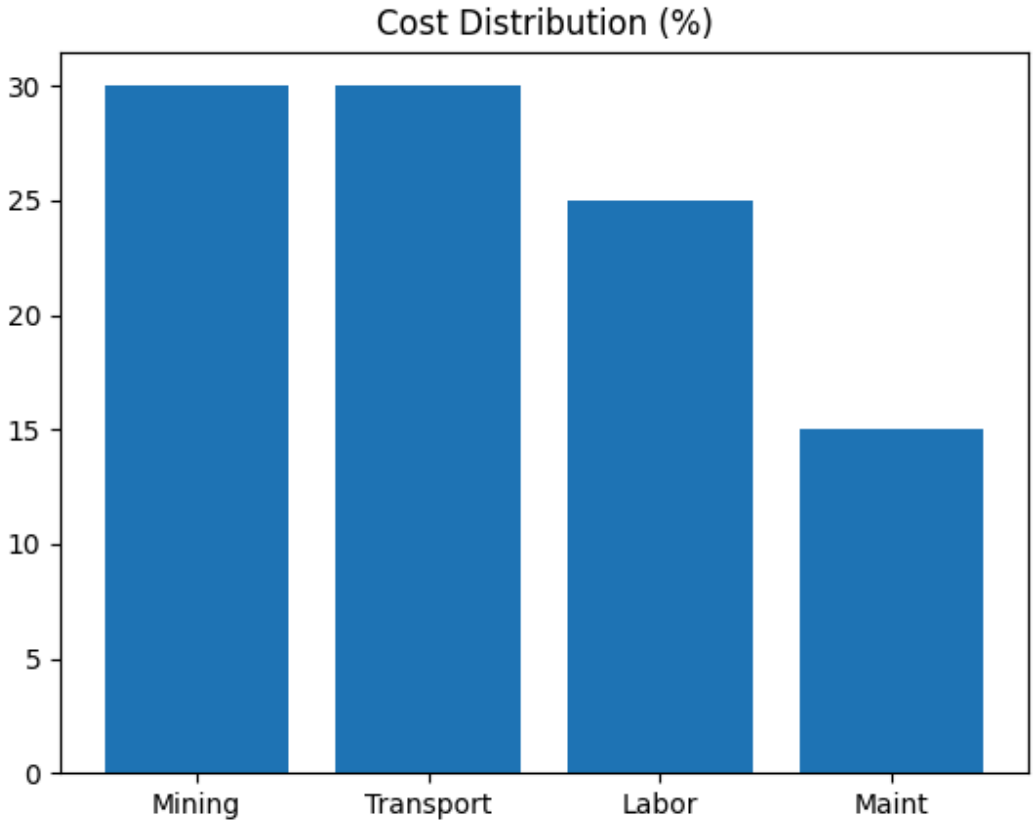

The chart shows mining and transport as the largest cost components (30% each), followed by labor and maintenance. Transport costs are high due to coal handling and logistics.
Significance: Helps engineers focus on cost optimization strategies, such as improving haulage efficiency and reducing fuel consumption.

📊 9. Dispatch Mode

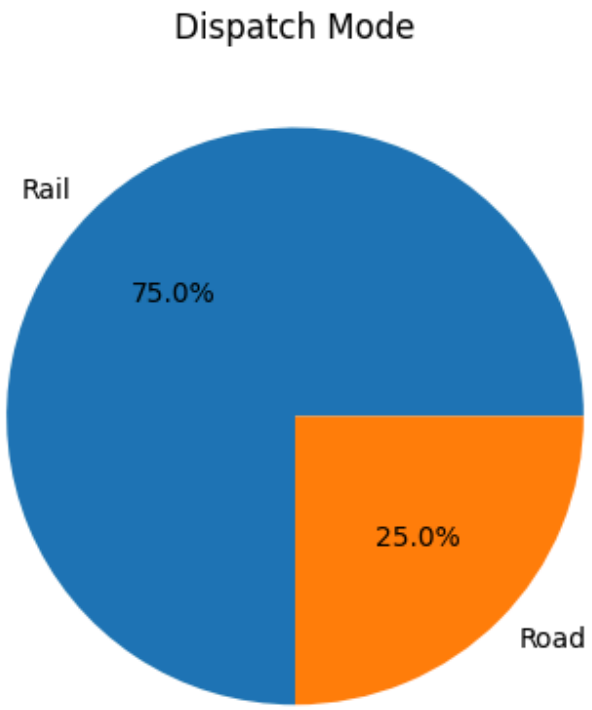

This chart shows that **rail transport (75%) dominates over road (25%)** for coal dispatch. Rail is more efficient for bulk transportation over long distances.
Significance: Important for logistics planning, reducing transportation cost, and minimizing environmental impact.

📊 10. Coal Utilization

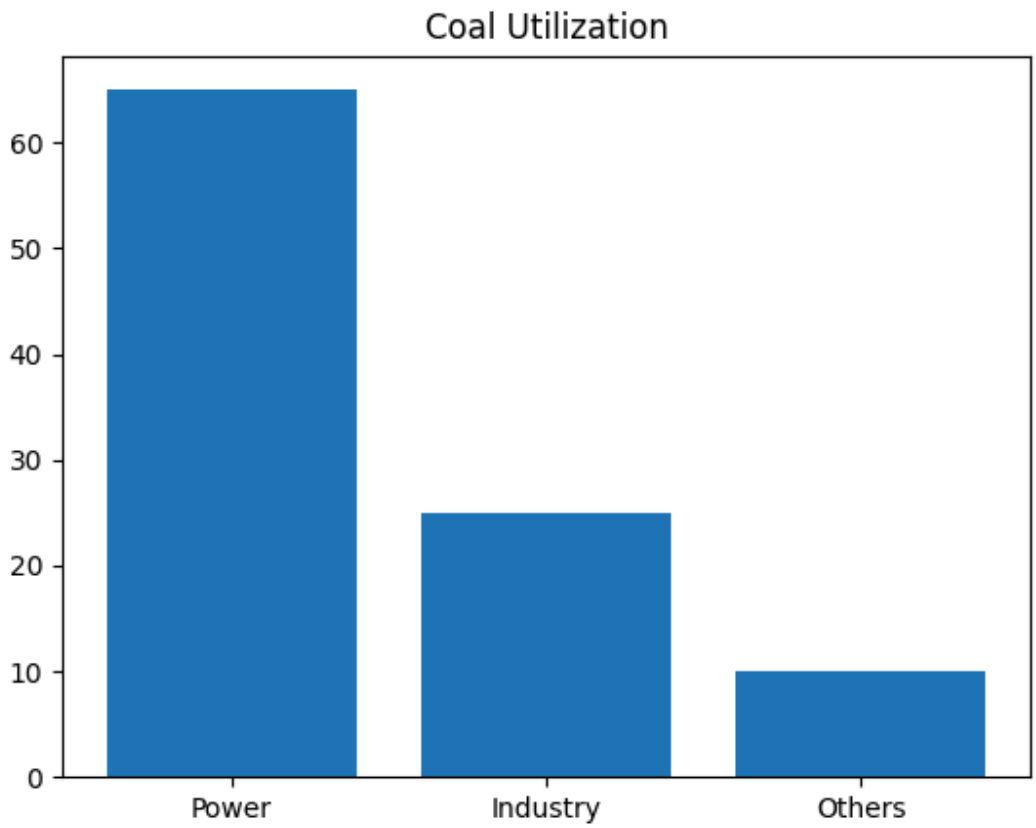

The chart shows that most coal (65%) is used in power generation, followed by industry and others. This highlights the role of Raniganj in energy supply.
Significance: Helps in understanding market demand, planning production accordingly, and aligning mining operations with end-use sectors.